| Owner details | | |
|---|---|---|
| Owner Name | Postal Address | Contact Number |
| Vilas Sakharam Jadhav | ,Basmath,Hingoli,Maharashtra-431512 | 7057777083 |
| Datta Sakharam Jadhav | Basmath,Hingoli,Maharashtra-431512 | |

DETAILS OF LAYOUT/SUBDIVISION OF LAND

| Village | Parcel No.(S.No.,Hiss., C.S No., F.P No.,Sub Plot No.Gut No) | Type(1.Raw/Adjoining Land,2.Semi-built,3.Gunthewari) | Area in Sqkl as per Revenue Record | Area as per Measurement Plan | Area as per POA | Area as per Demarcated | Area in possession | Stringent Area in Sqkl |
|---|---|---|---|---|---|---|---|---|
| Jawala tarfe Babhulgaon | Gut No.24 Part | Raw/Adjoining Land | 15000.00 | 14842.95 | 0.00 | 14842.94 | 14842.94 | 14842.94 |
| Total Amalgamated Plot | | | 15000.00 | 14842.95 | 0.00 | 14842.94 | 14842.94 | 14842.94 |

DETAILS OF SUBDIVIDED PLOT AREA STATEMENT

| Plot NO | Plot Area | Rounding area of road | Net Area | Pro rata FSI factor | Front Road Width | Basic FSI | BUA on pro rata basis | Type of Plot | OR apportionment on plot |
|---|---|---|---|---|---|---|---|---|---|
| 1 | 474.210 | 0.000 | 474.210 | 1.590 | 18.00 | 1.100 | 829.393 | Detached | 0.00 |
| 2 | 320.790 | 0.000 | 320.790 | 1.590 | 18.00 | 1.100 | 561.052 | Detached | 0.00 |
| 3 | 320.790 | 0.000 | 320.790 | 1.590 | 18.00 | 1.100 | 561.052 | Detached | 0.00 |
| 4 | 423.970 | 12.400 | 411.570 | 1.590 | 18.00 | 1.100 | 719.486 | Detached | 0.00 |
| 5 | 110.130 | 6.050 | 104.080 | 1.590 | 12.00 | 1.100 | 182.035 | Semi-detached | 0.00 |
| 6 | 96.000 | 0.000 | 96.000 | 1.590 | 9.00 | 1.100 | 167.904 | Semi-detached | 0.00 |
| 7 | 108.000 | 0.000 | 108.000 | 1.590 | 9.00 | 1.100 | 188.892 | Semi-detached | 0.00 |
| 8 | 96.000 | 0.000 | 96.000 | 1.590 | 9.00 | 1.100 | 167.904 | Semi-detached | 0.00 |
| 9 | 96.000 | 0.000 | 96.000 | 1.590 | 9.00 | 1.100 | 167.904 | Semi-detached | 0.00 |
| 10 | 96.000 | 0.000 | 96.000 | 1.590 | 9.00 | 1.100 | 167.904 | Semi-detached | 0.00 |
| 11 | 96.000 | 0.000 | 96.000 | 1.590 | 9.00 | 1.100 | 167.904 | Semi-detached | 0.00 |
| 12 | 109.285 | 0.000 | 109.285 | 1.590 | 9.00 | 1.100 | 191.095 | Semi-detached | 0.00 |
| 13 | 193.880 | 6.000 | 187.520 | 1.590 | 12.00 | 1.100 | 327.972 | Detached | 0.00 |
| 14 | 144.000 | 0.000 | 144.000 | 1.590 | 9.00 | 1.100 | 251.856 | Semi-detached | 0.00 |
| 15 | 144.000 | 0.000 | 144.000 | 1.590 | 9.00 | 1.100 | 251.856 | Semi-detached | 0.00 |
| 16 | 144.000 | 0.000 | 144.000 | 1.590 | 9.00 | 1.100 | 251.856 | Semi-detached | 0.00 |
| 17 | 144.000 | 0.000 | 144.000 | 1.590 | 9.00 | 1.100 | 251.856 | Semi-detached | 0.00 |
| 18 | 144.000 | 0.000 | 144.000 | 1.590 | 9.00 | 1.100 | 251.856 | Semi-detached | 0.00 |
| 19 | 151.780 | 0.000 | 151.780 | 1.590 | 9.00 | 1.100 | 265.463 | Semi-detached | 0.00 |
| 20 | 167.340 | 0.000 | 167.340 | 1.590 | 9.00 | 1.100 | 292.678 | Semi-detached | 0.00 |
| 21 | 144.000 | 0.000 | 144.000 | 1.590 | 9.00 | 1.100 | 251.856 | Semi-detached | 0.00 |
| 22 | 144.000 | 0.000 | 144.000 | 1.590 | 9.00 | 1.100 | 251.856 | Semi-detached | 0.00 |
| 23 | 144.000 | 0.000 | 144.000 | 1.590 | 9.00 | 1.100 | 251.856 | Semi-detached | 0.00 |
| 24 | 144.000 | 0.000 | 144.000 | 1.590 | 9.00 | 1.100 | 251.856 | Semi-detached | 0.00 |
| 25 | 144.000 | 0.000 | 144.000 | 1.590 | 9.00 | 1.100 | 251.856 | Semi-detached | 0.00 |
| 26 | 174.140 | 0.000 | 168.090 | 1.590 | 12.00 | 1.100 | 293.889 | Detached | 0.00 |
| 27 | 193.380 | 0.000 | 193.380 | 1.590 | 9.00 | 1.100 | 338.222 | Semi-detached | 0.00 |
| 28 | 180.000 | 0.000 | 180.000 | 1.590 | 9.00 | 1.100 | 314.820 | Semi-detached | 0.00 |
| 29 | 180.000 | 0.000 | 180.000 | 1.590 | 9.00 | 1.100 | 314.820 | Semi-detached | 0.00 |
| 30 | 180.000 | 0.000 | 180.000 | 1.590 | 9.00 | 1.100 | 314.820 | Semi-detached | 0.00 |
| 31 | 180.000 | 0.000 | 180.000 | 1.590 | 9.00 | 1.100 | 314.820 | Semi-detached | 0.00 |
| 32 | 180.000 | 0.000 | 180.000 | 1.590 | 9.00 | 1.100 | 314.820 | Semi-detached | 0.00 |
| 33 | 225.280 | 6.260 | 219.020 | 1.590 | 12.00 | 1.100 | 383.233 | Detached | 0.00 |
| 34 | 284.160 | 12.600 | 271.560 | 1.590 | 18.00 | 1.100 | 474.958 | Detached | 0.00 |
| 35 | 135.000 | 0.000 | 135.000 | 1.590 | 12.00 | 1.100 | 236.115 | Semi-detached | 0.00 |
| 36 | 135.000 | 0.000 | 135.000 | 1.590 | 12.00 | 1.100 | 236.115 | Semi-detached | 0.00 |
| 37 | 135.000 | 0.000 | 135.000 | 1.590 | 12.00 | 1.100 | 236.115 | Semi-detached | 0.00 |
| 38 | 135.000 | 0.000 | 135.000 | 1.590 | 12.00 | 1.100 | 236.115 | Semi-detached | 0.00 |
| 39 | 135.000 | 0.000 | 135.000 | 1.590 | 12.00 | 1.100 | 236.115 | Semi-detached | 0.00 |
| 40 | 135.000 | 0.000 | 135.000 | 1.590 | 12.00 | 1.100 | 236.115 | Semi-detached | 0.00 |
| 41 | 135.000 | 0.000 | 135.000 | 1.590 | 12.00 | 1.100 | 236.115 | Semi-detached | 0.00 |
| 42 | 135.000 | 0.000 | 135.000 | 1.590 | 12.00 | 1.100 | 236.115 | Semi-detached | 0.00 |
| 43 | 127.500 | 0.000 | 127.500 | 1.590 | 12.00 | 1.100 | 222.998 | Semi-detached | 0.00 |
| 44 | 127.500 | 0.000 | 127.500 | 1.590 | 12.00 | 1.100 | 222.998 | Semi-detached | 0.00 |
| 45 | 127.500 | 0.000 | 127.500 | 1.590 | 12.00 | 1.100 | 222.998 | Semi-detached | 0.00 |
| 46 | 127.500 | 0.000 | 127.500 | 1.590 | 12.00 | 1.100 | 222.998 | Semi-detached | 0.00 |
| 47 | 127.500 | 0.000 | 127.500 | 1.590 | 12.00 | 1.100 | 222.998 | Semi-detached | 0.00 |
| 48 | 120.000 | 0.000 | 120.000 | 1.590 | 12.00 | 1.100 | 209.880 | Semi-detached | 0.00 |
| 49 | 120.000 | 0.000 | 120.000 | 1.590 | 12.00 | 1.100 | 209.880 | Semi-detached | 0.00 |
| 50 Amenity CALCULATION | 129.240 | 0.000 | 129.240 | 1.590 | 12.00 | 1.100 | 226.041 | Semi-detached | 0.00 |
| Total | 8159.380 | | 8109.96 | | | | 14184.32 | | |

| Name | Area |
|---|---|
| AMENITY SPACE | 1508.96 |
| TOTAL | 1508.96 |

RECREATIONAL CALCULATION

| Name | Area |
|---|---|
| OPEN SPACE | 1491.34 |
| TOTAL | 1491.34 |

DEMARCATED RESIDENTIAL LAYOUT PLAN ON GUT NO.24 PT.
AT MOUJE JAWALA THARFE BHABHULGAON ,
TQ.BASAMATH DIST. HINGOLI.

OWNER - 1) SHRI .VILAS SAKHARAM JADHAV
2) SHRI. DATTA SAKHARAM JADHAV

M. R. No. : B / 02452 / 2024 M. R. DATE : 16 / 02 / 2024

## Project Details

Proposal code -RPHIN-24-39040
Zone Type - Residential Zone
Location - Non-Congested
Name of service - Layout Approval
Sub service - Layout Demarcated/Final
Cts No./Survey No. - 0
Tahsil : Basmat
Mouza : Babhulgaon
Prorata Value : 1.61
Separation/CRZ Zone Area :

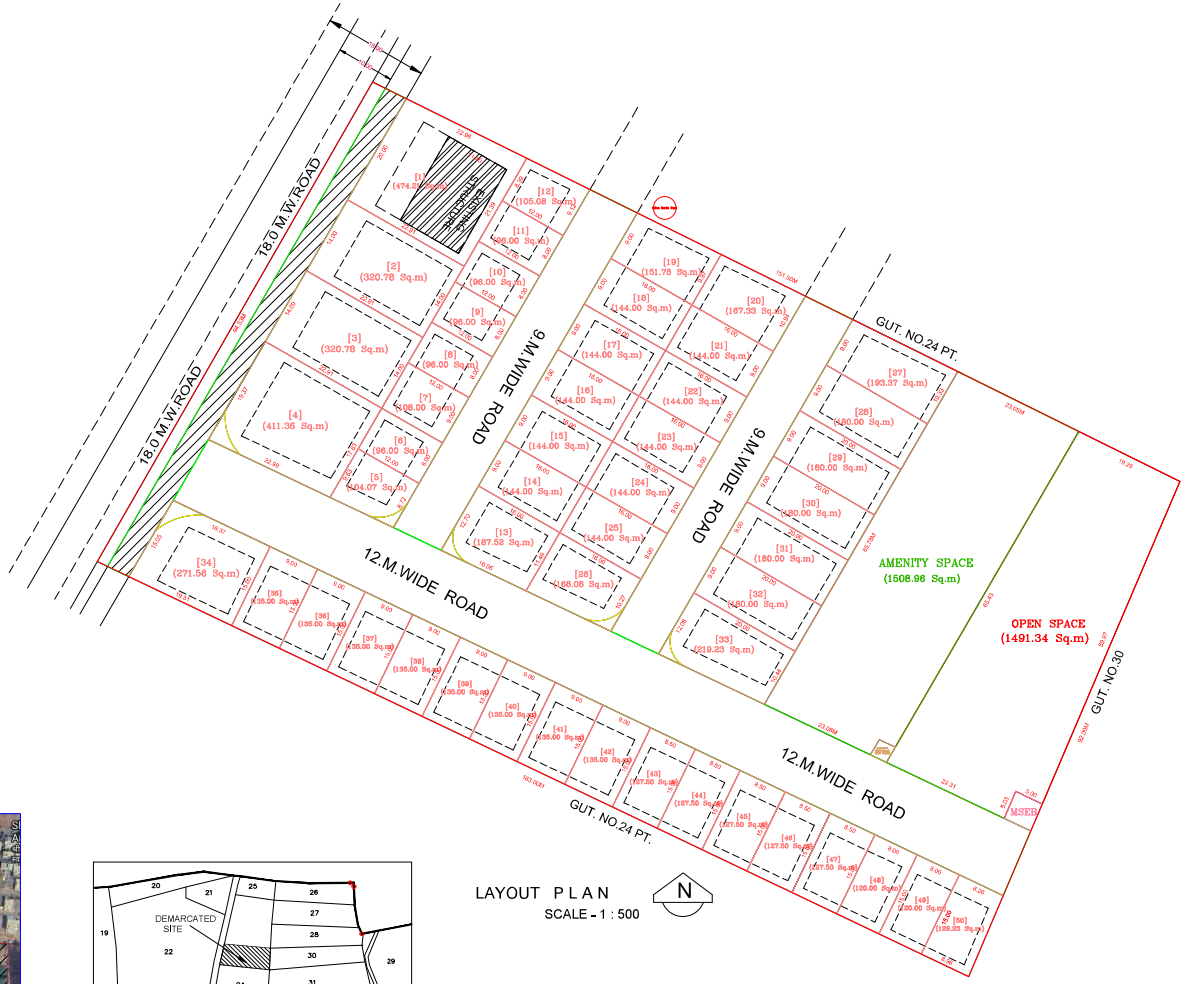


LAYOUT PLAN
SCALE - 1 : 500

Certificate of Area:

Certified that the plot under reference was surveyed by me on and the dimensions of sides etc. of plot stated on plan are as measured on site and the area so worked out tallies with the area stated in document of Ownership/T.P. Scheme Records/ Land Records Department City Survey records.

Signature (Name of Architect/ Licensed Engineer/ Supervisor.)

Owner's Declaration –

I/We undersigned hereby confirm that I/We would abide by plans approved by Authority/Collector. I/We would execute the structure as per approved plans. Also I/We would execute the work under supervision of proper technical person so as to ensure the quality and safety at the work site.

Owner (s) name and signature

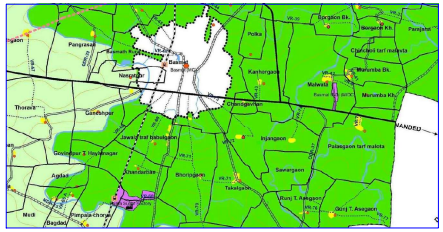


RP PLAN

GOOGLE PLAN

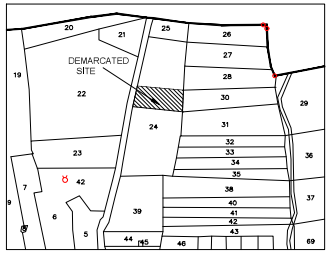


SITE PLAN
SCALE - 1 : 4000

## LEGENDS:

PLOT BOUNDRY SHOWN WHITE
PROPOSED WORK SHOWN RED
DRAINAGE LINE SHOWN YELLOW LIGHT
WATER LINE SHOWN BLUE DOTTED
ENCLOSED BAL SHOWN BROWN
TERRACE SHOWN DARK YELLOW
OPEN BAL SHOWN BRAWN
EXSTING SHOWN BLUE HATCHED

AREA STATEMENT

| | | |
|---|---|---|
| 1 | Area of Plot (Minimum area of plot is not considered) | 14842.95 |
| | (a) Area of plot in Green Zone (if any) | 0.00 |
| | (b) Area reserved for road | 1491.34 |
| | (c) Area left | 13351.61 |
| 2 | Deductions | |
| | (a) Amenity Sp. Not more than 10% | 1508.96 |
| | (b) Recreational Sp. | 0.00 |
| | (c) Green Belt | 0.00 |
| 3 | Net area of plot | 14842.94 |
| | Total built up area allowed | 23737.51 |
| 4 | Maximum Ground Coverage allowed | 4453.88 |
| 5 | Maximum F.S.I. allowed | 1.59 |
| 6 | Maximum permissible Ground Coverage | 2226.94 |
| | (a) Proposed | 1491.34 |
| | (b) Proposed | 1491.34 |
| 7 | Maximum F.S.I. allowed | 1.59 |
| 8 | Total built up area allowed | 23737.51 |
| | (a) Proposed | 14184.32 |
| 9 | Number of tenements | — |
| 10 | Area for | Residential |
| 11 | Number of Blocks | 1 |
| | (a) Residential | 50 |
| | (b) Commercial | — |
| | (c) Industrial | — |
| | (d) Public and Semi Public | — |

,Basmath Hingoli Maharashtra-431512

DESCRIPTION OF PROJECT :
Type of Proposal : Residential
Layout Demarcated/Final
SITE ADDRESS:
Gut No.24 Part, At Mouje Jawala tarfe Babhulgaon Tq Basmath Dist Hingoli

OWNER'S SIGN :- | TECHNICAL PERSON SIGN :-

SCALE - 1:100 | 09/07/24
JOB NO - RPHIN-39040 | CHECK BY -

SUBMISSION DRAWING